Made with Metabase

TransLink Transit Analytics

Top 20 Overcrowded Routes (Multi-Year)

Calendar Year	Overcrowding Rank	Route Number	Route Name	Subregion	Pct Trips Overcrowded	Overcrowding Severity	Is Persistent Overcrowded
2019	2	393	NEWTON EXCH/SURREY CENTRAL STN	Southeast (Surrey/Langley)	40.42	Critical	true
2019	3	323	NEWTON EXCH/SURREY CENTRAL STN	Southeast (Surrey/Langley)	40.01	Critical	true
2024	1	393	NEWTON EXCH/SURREY CENTRAL STN	Southeast (Surrey/Langley)	34.65	Critical	true
2019	4	319	SCOTT STN/NEWTON EXCH/SCOTTSDALE	Southeast (Surrey/Langley)	33.07	Critical	true
2023	1	345	KING GEORGE STN/WHITE ROCK CENTRE	Southeast (Surrey/Langley)	33	Critical	true
2024	2	321	WHITE ROCK/NEWTON/SURREY CTRL STN	Southeast (Surrey/Langley)	33	Critical	true
2024	3	335	NEWTON/SURREY CENTRAL STN	Southeast (Surrey/Langley)	32.14	Critical	true
2019	5	99	COMMERCIAL-BROADWAY/UBC (B-LINE)	Vancouver/UBC	29.45	High	true
2023	2	323	NEWTON EXCH/SURREY CENTRAL STN	Southeast (Surrey/Langley)	28.71	High	true
2023	3	335	NEWTON/SURREY CENTRAL STN	Southeast (Surrey/Langley)	28.35	High	true
2024	4	345	KING GEORGE STN/WHITE ROCK CENTRE	Southeast (Surrey/Langley)	28.13	High	true
2023	4	321	WHITE ROCK/NEWTON/SURREY CTRL STN	Southeast (Surrey/Langley)	27.61	High	true
2023	5	393	NEWTON EXCH/SURREY CENTRAL STN	Southeast (Surrey/Langley)	26.99	High	true
2019	7	49	METROTOWN STN/DUNBAR LOOP/UBC	Vancouver/UBC	26.75	High	true
2023	6	25	BRENTWOOD STN/UBC	Vancouver/UBC	26.52	High	true

60 rows

Service Gap by Sub-Region (2024)

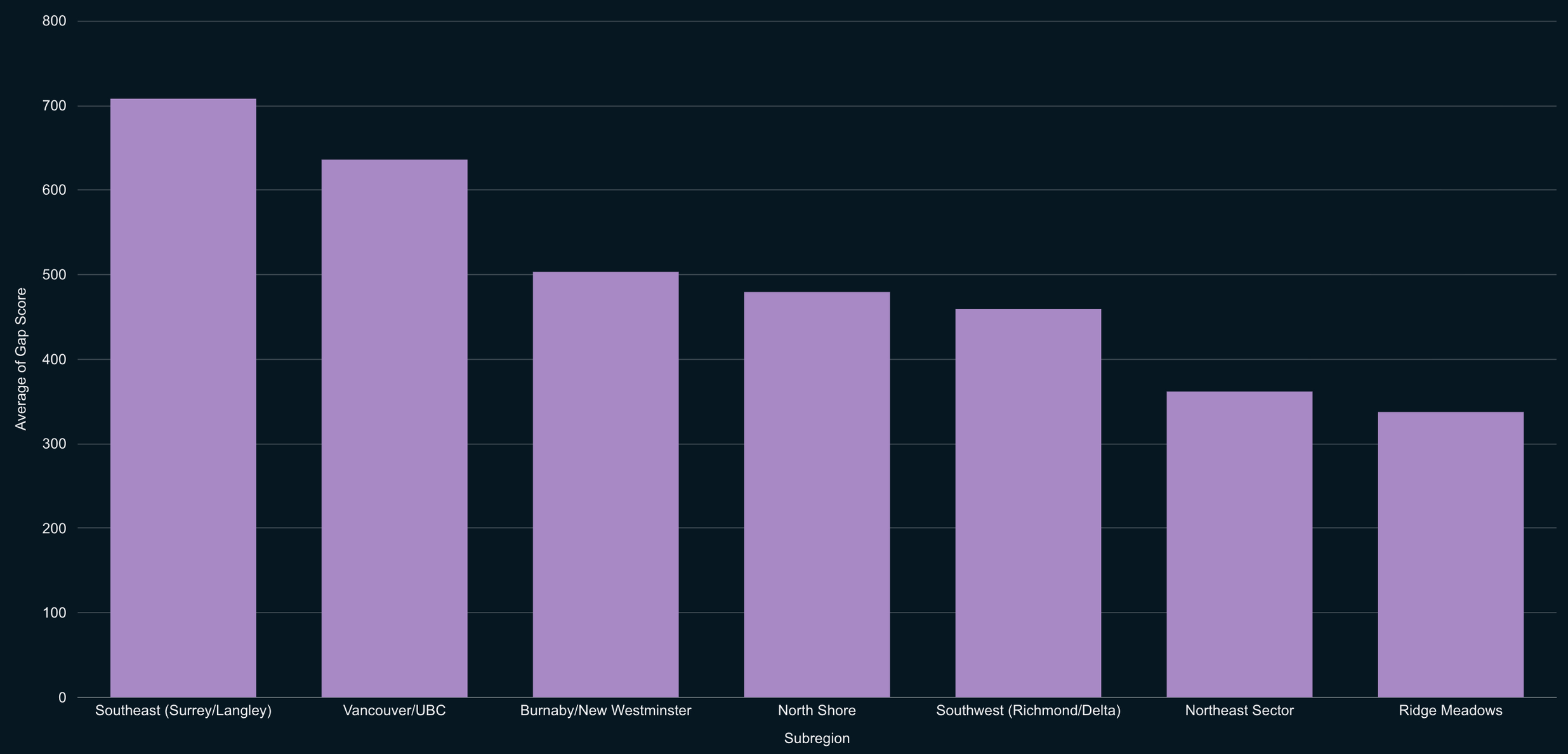

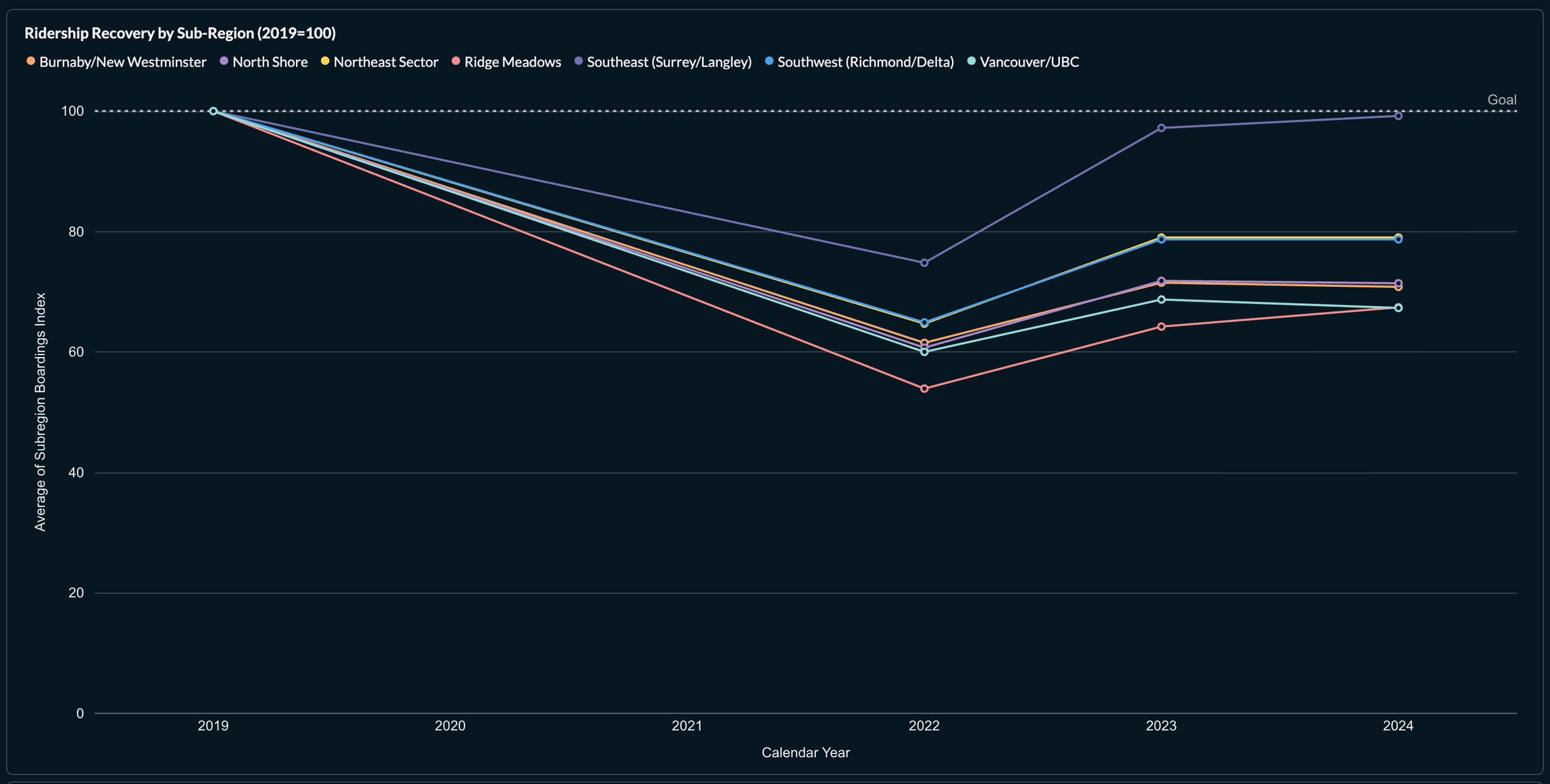
Ridership Recovery by Sub-Region (2019=100)
Burnaby/New Westminster
North Shore
Northeast Sector
Ridge Meadows
Southeast (Surrey/Langley)
Southwest (Richmond/Delta)
Vancouver/UBC
Goal
100
80
60
40
20
0
Average of Subregion Boardings Index
2019
2020
2021
2022
2023
2024
Calendar Year

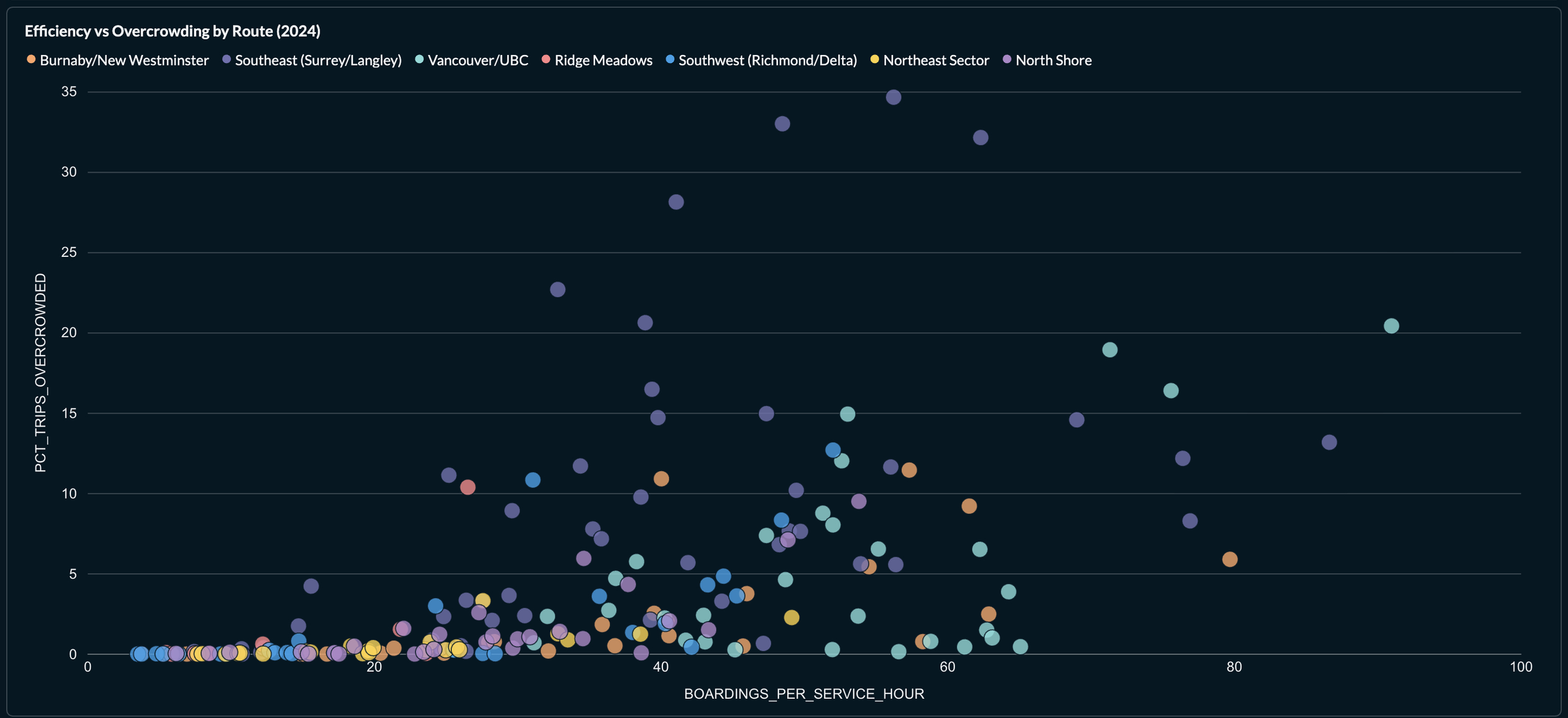
Efficiency vs Overcrowding by Route (2024)
Burnaby/New Westminster
Southeast (Surrey/Langley)
Vancouver/UBC
Ridge Meadows
Southwest (Richmond/Delta)
Northeast Sector
North Shore
35
30
25
20
15
10
5
0
PCT_TRIPS_OVERCROWDED
0
20
40
60
80
100
BOARDINGS_PER_SERVICE_HOUR

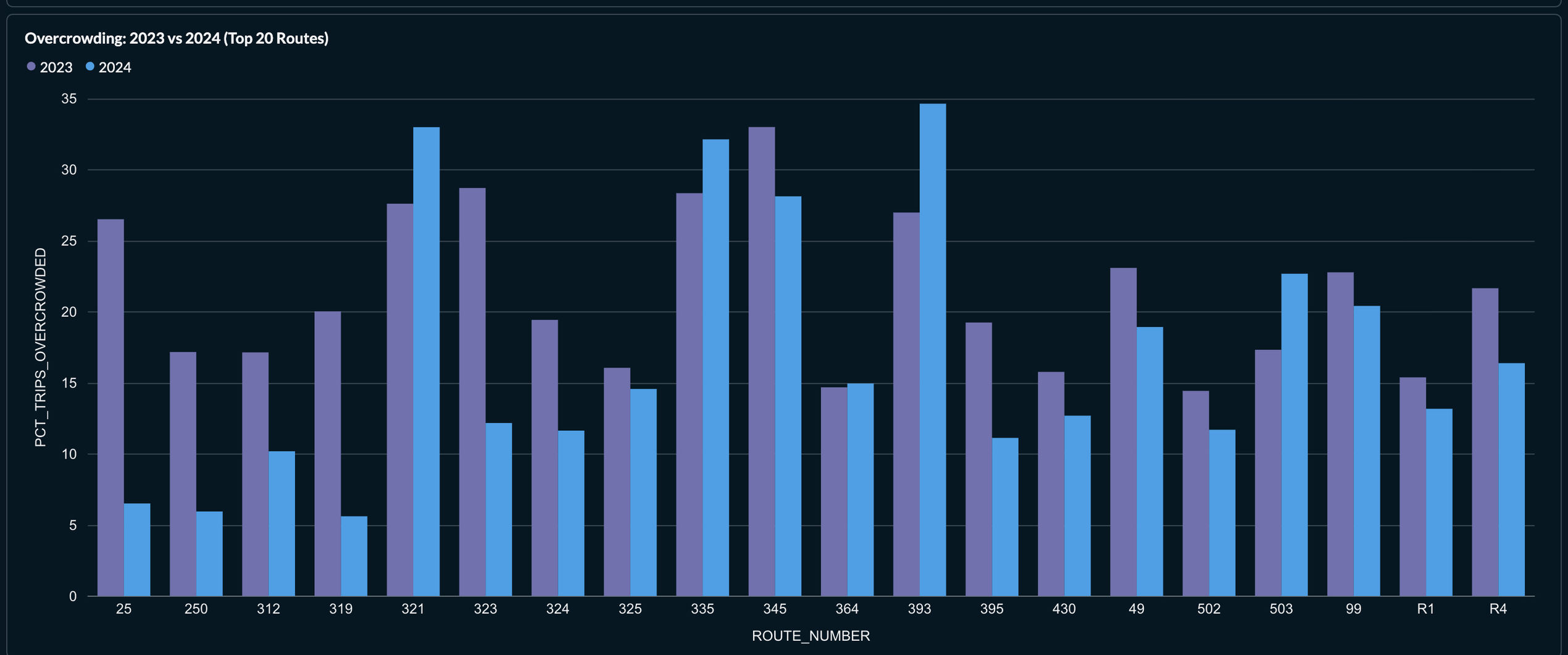
Overcrowding: 2023 vs 2024 (Top 20 Routes)
2023
2024
35
30
25
20
15
10
5
0
PCT_TRIPS_OVERCROWDED
25
250
312
319
321
323
324
325
335
345
364
393
395
430
49
502
503
99
R1
R4
ROUTE_NUMBER

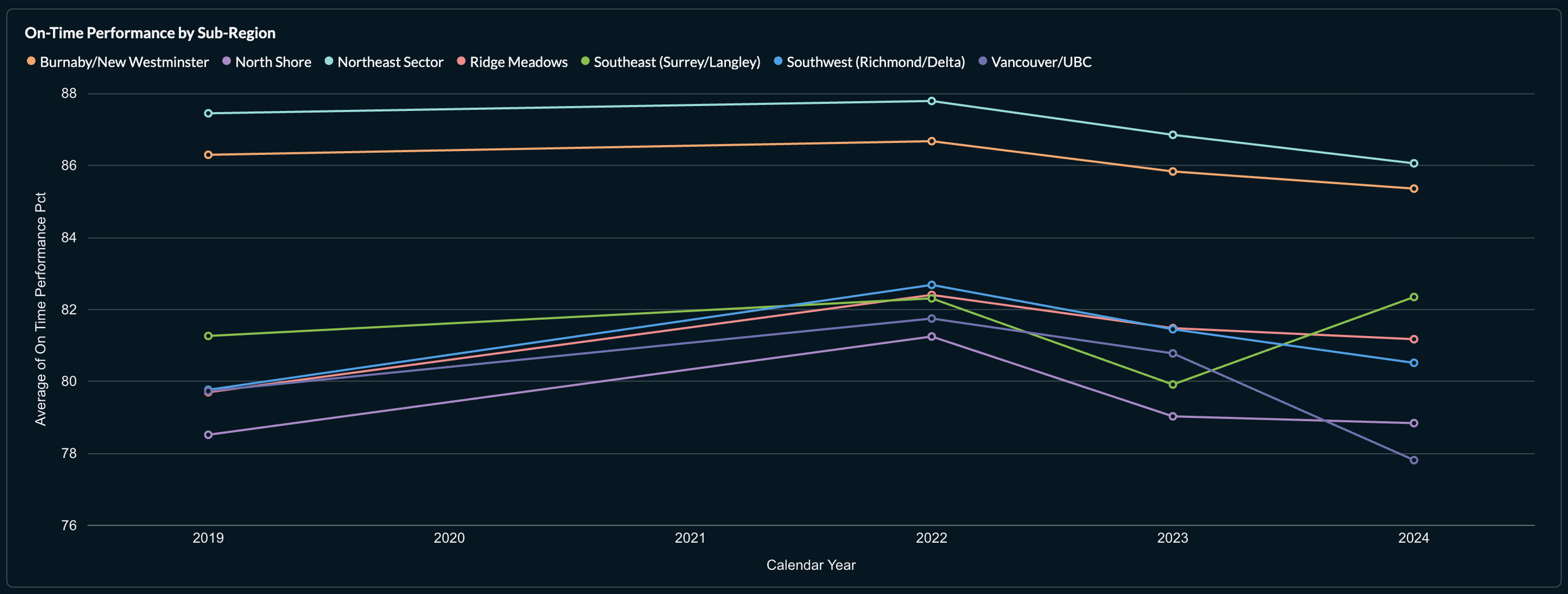
On-Time Performance by Sub-Region
Burnaby/New Westminster
North Shore
Northeast Sector
Ridge Meadows
Southeast (Surrey/Langley)
Southwest (Richmond/Delta)
Vancouver/UBC
Average of On Time Performance Pct
88
86
84
82
80
78
76
2019
2020
2021
2022
2023
2024
Calendar Year