Made with Metabase

TransLink Transit Analytics

Persistent Overcrowding Heat Map — Top Routes (2019–2024)

ROUTE_NUMBER	ROUTE_NAME	SUBREGION	2019	2022	2023	2024
393	NEWTON EXCH/SURREY CENTRAL STN	Southeast (Surrey/Langley)	40.42	26.35	26.99	34.65
321	WHITE ROCK/NEWTON/SURREY CTRL STN	Southeast (Surrey/Langley)	17.36	18.01	27.61	33
335	NEWTON/SURREY CENTRAL STN	Southeast (Surrey/Langley)	21.95	19.89	28.35	32.14
345	KING GEORGE STN/WHITE ROCK CENTRE	Southeast (Surrey/Langley)	24.8	15.21	33	28.13
99	COMMERCIAL-BROADWAY/UBC (B-LINE)	Vancouver/UBC	29.45	8.71	22.78	20.42
49	METROTOWN STN/DUNBAR LOOP/UBC	Vancouver/UBC	26.75	21.2	23.09	18.93
R4	41ST AVE	Vancouver/UBC	18.08	18.51	21.66	16.39
364	LANGLEY CTR/ SCOTTSDALE	Southeast (Surrey/Langley)	8.57	7.27	14.69	14.96
325	NEWTON EXCH/SURREY CENTRAL STN	Southeast (Surrey/Langley)	9.77	11.51	16.06	14.57
R1	KING GEORGE BLVD	Southeast (Surrey/Langley)	15.64	8.49	15.39	13.18
430	METROTOWN/BRIGHOUSE STATION	Southwest (Richmond/Delta)	26.09	9.82	15.77	12.69
323	NEWTON EXCH/SURREY CENTRAL STN	Southeast (Surrey/Langley)	40.01	24.36	28.71	12.17
324	NEWTON EXCH/SURREY CENTRAL STN	Southeast (Surrey/Langley)	15.58	9.47	19.43	11.64
25	BRENTWOOD STN/UBC	Vancouver/UBC	21.75	19.71	26.52	6.51
319	SCOTT STN/NEWTON EXCH/SCOTTSDALE	Southeast (Surrey/Langley)	33.07	13.9	20.03	5.61

15 rows

Service Gap by Sub-Region (2024)

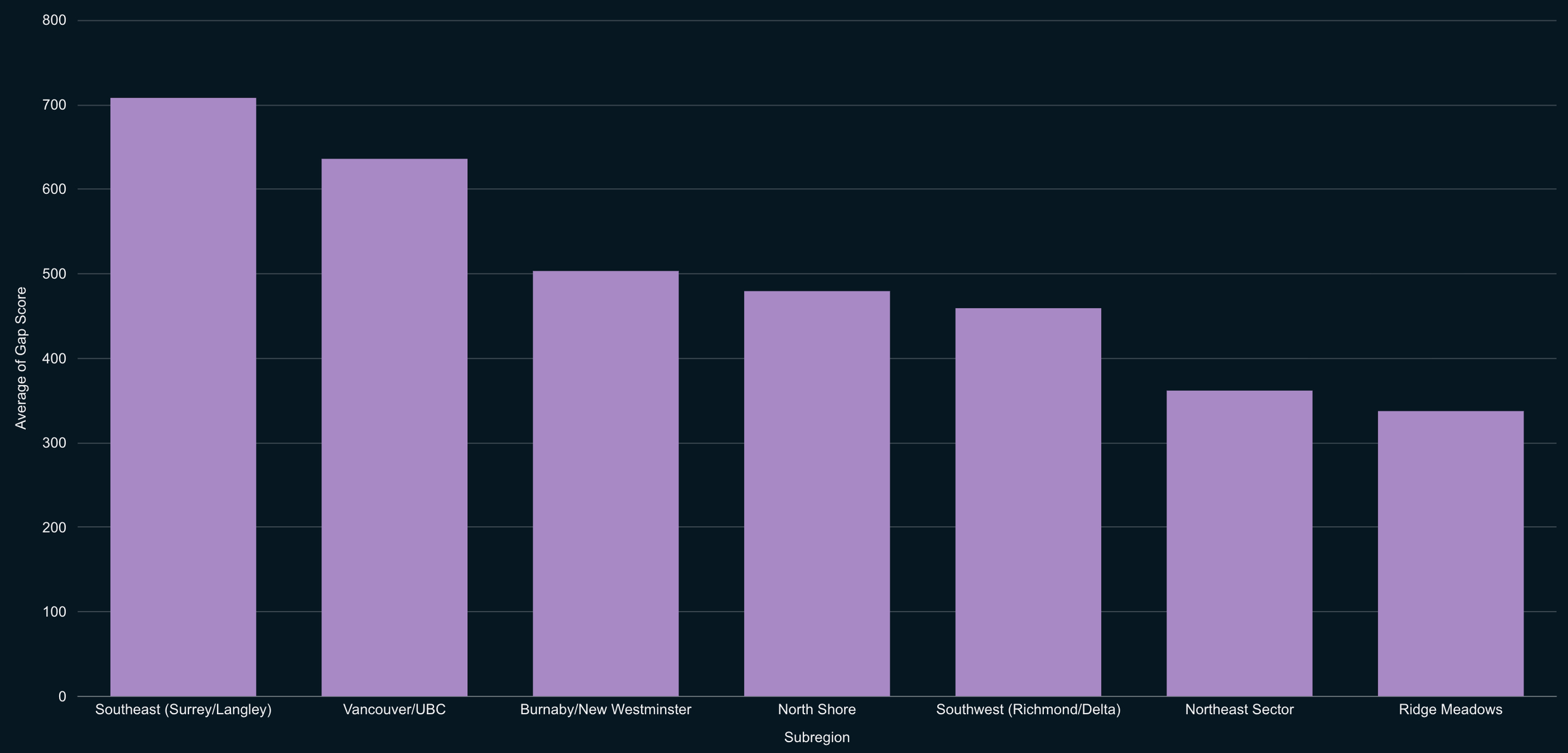

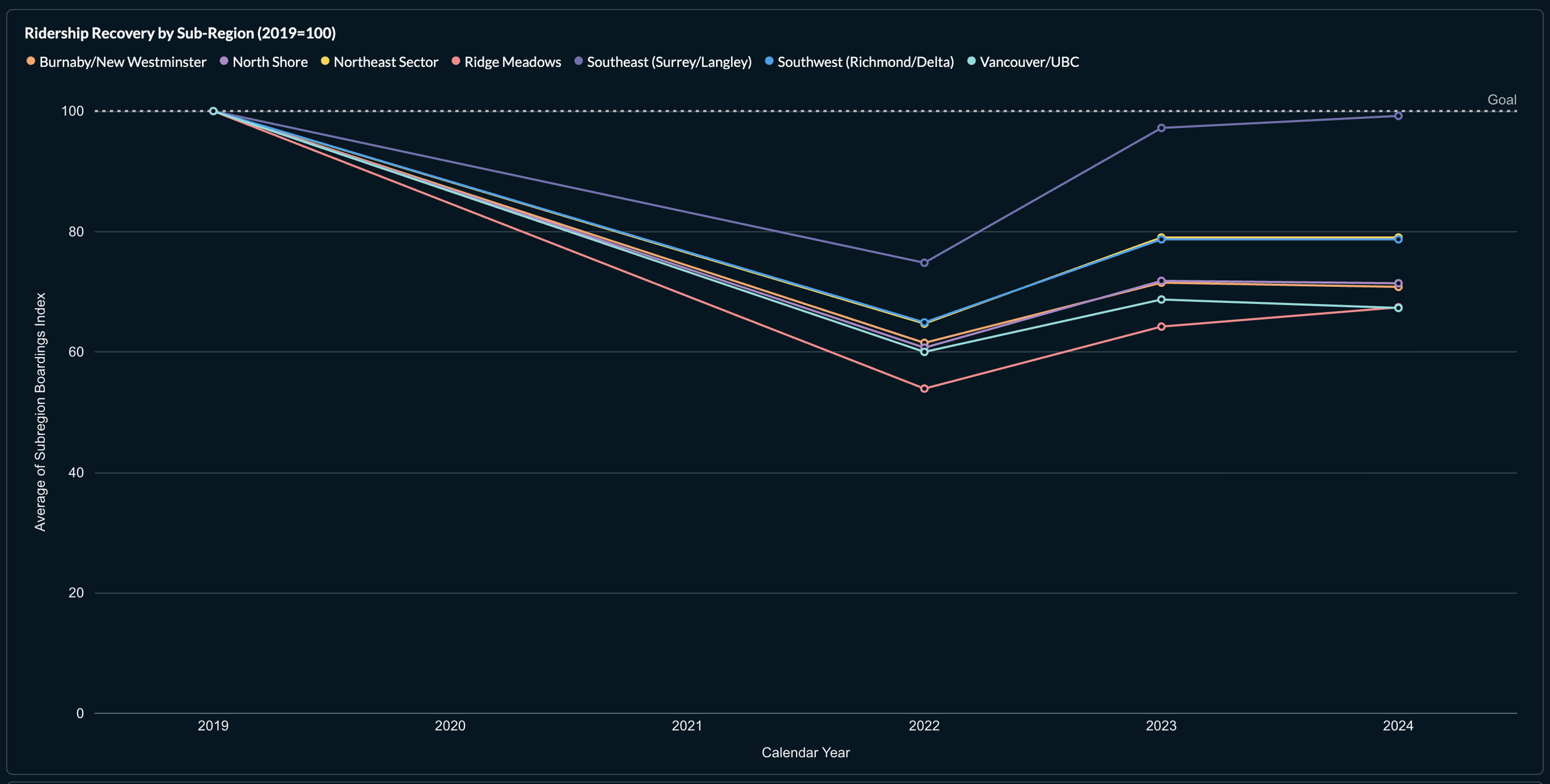
Ridership Recovery by Sub-Region (2019=100)
Burnaby/New Westminster
North Shore
Northeast Sector
Ridge Meadows
Southeast (Surrey/Langley)
Southwest (Richmond/Delta)
Vancouver/UBC
Goal
100
80
60
40
20
0
Average of Subregion Boardings Index
2019
2020
2021
2022
2023
2024
Calendar Year

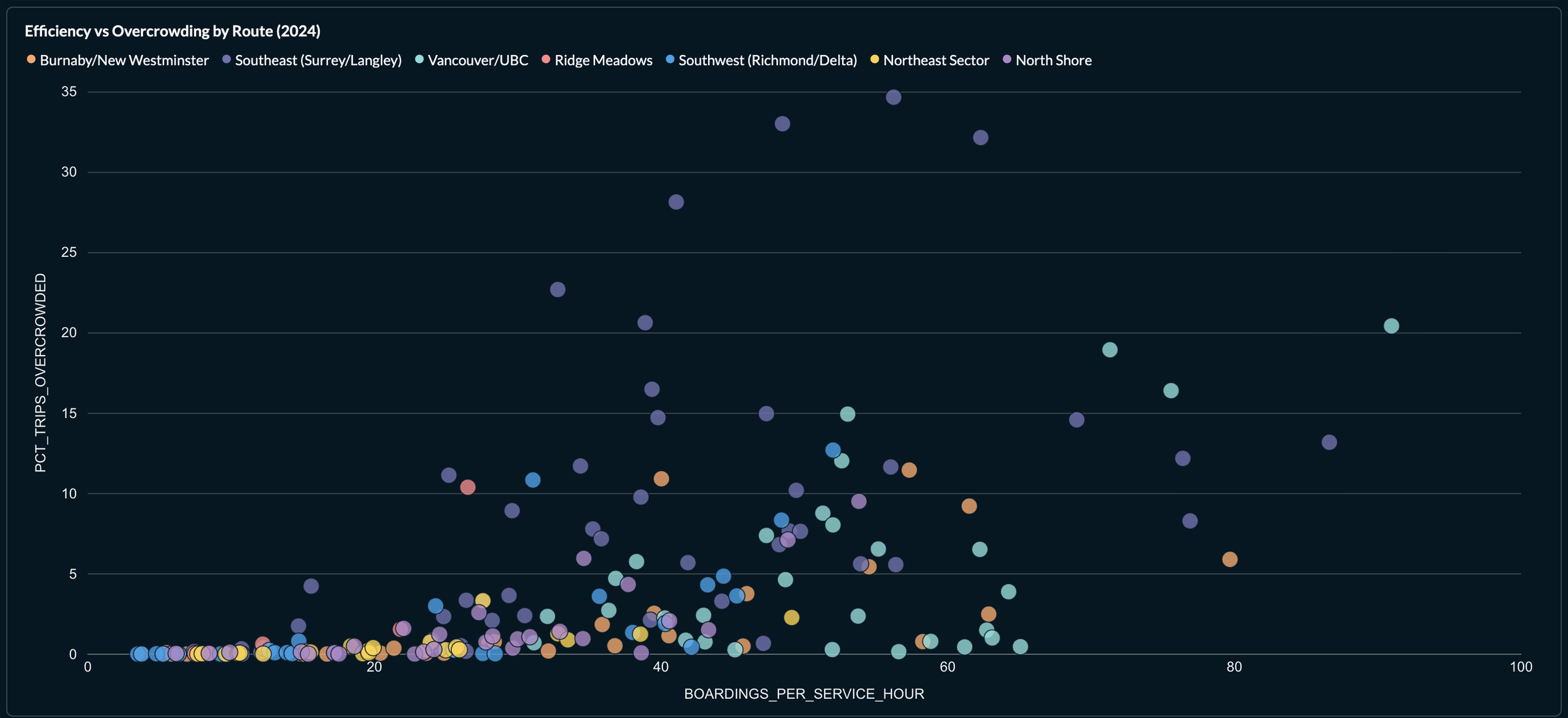
Efficiency vs Overcrowding by Route (2024)
Burnaby/New Westminster
Southeast (Surrey/Langley)
Vancouver/UBC
Ridge Meadows
Southwest (Richmond/Delta)
Northeast Sector
North Shore
35
30
25
20
15
10
5
0
PCT_TRIPS_OVERCROWDED
0
20
40
60
80
100
BOARDINGS_PER_SERVICE_HOUR

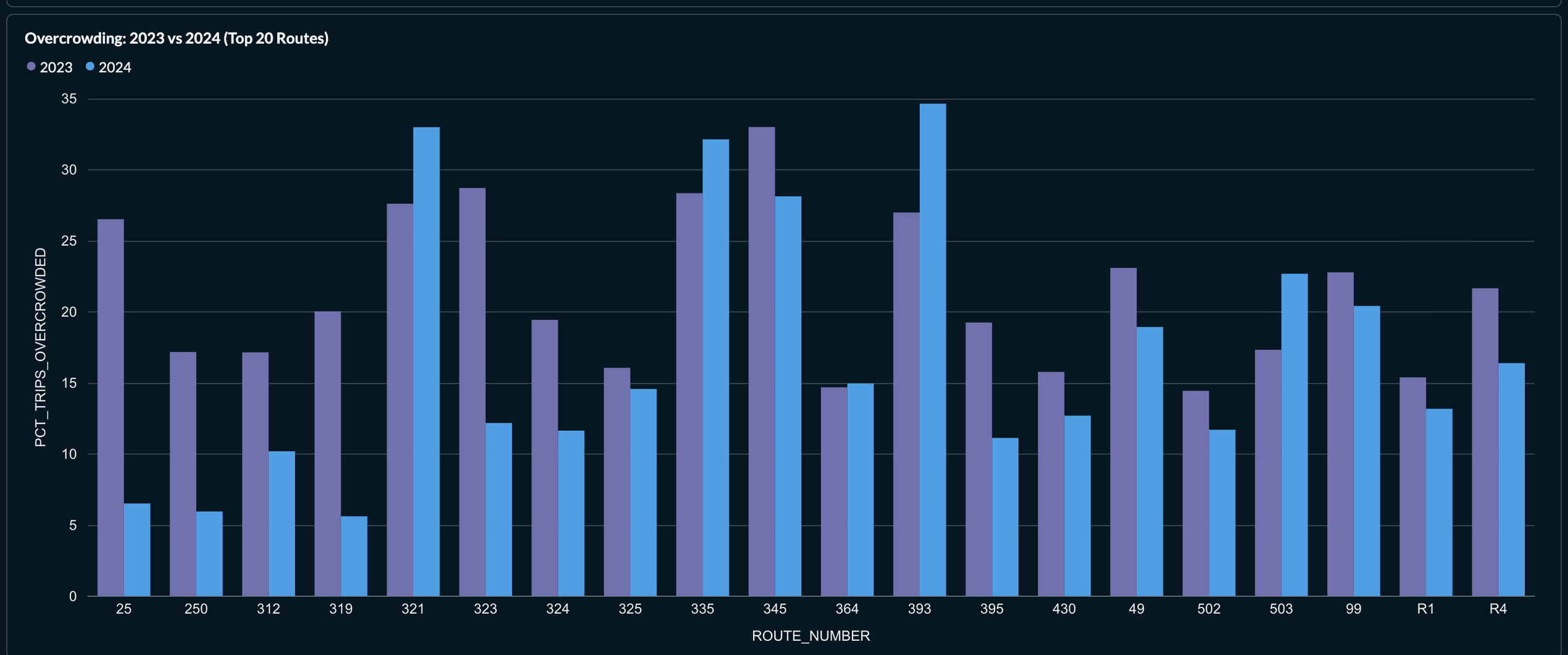
Overcrowding: 2023 vs 2024 (Top 20 Routes)
2023
2024
35
30
25
20
15
10
5
0
PCT_TRIPS_OVERCROWDED
25
250
312
319
321
323
324
325
335
345
364
393
395
430
49
502
503
99
R1
R4
ROUTE_NUMBER

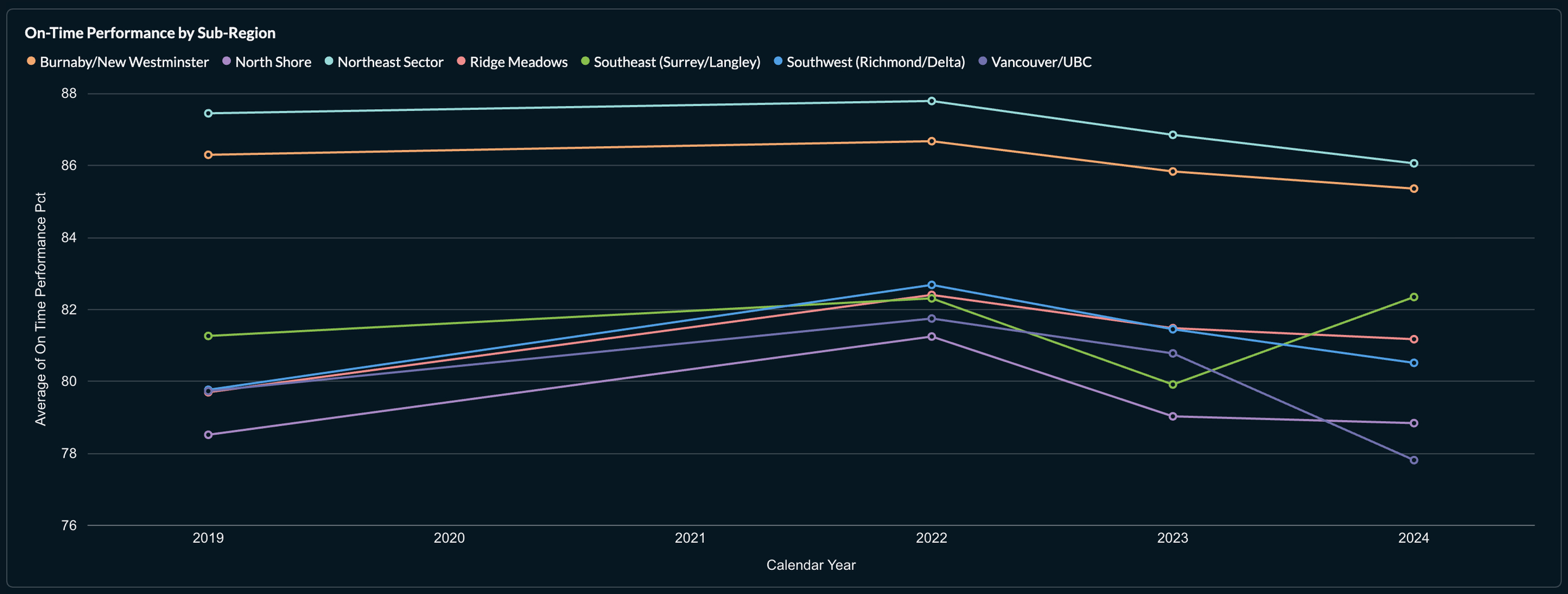
On-Time Performance by Sub-Region
Burnaby/New Westminster
North Shore
Northeast Sector
Ridge Meadows
Southeast (Surrey/Langley)
Southwest (Richmond/Delta)
Vancouver/UBC
Average of On Time Performance Pct
88
86
84
82
80
78
76
2019
2020
2021
2022
2023
2024
Calendar Year